Total Hazard Class Counts

	count	percent
Low	9348	75.1%
Moderate	2414	19.4%
High	442	3.6%
Extreme	239	1.9%

Hazard Class Counts per Year

	Low	Moderate	High	Extreme
2019	1164 (73.3%)	391 (24.6%)	24 (1.5%)	10 (0.6%)
2020	218 (80.7%)	51 (18.9%)	1 (0.4%)	0 (0.0%)
2021	1142 (69.6%)	432 (26.3%)	56 (3.4%)	11 (0.7%)
2022	1315 (70.7%)	384 (20.6%)	86 (4.6%)	76 (4.1%)
2023	3459 (76.5%)	785 (17.4%)	173 (3.8%)	106 (2.3%)
2024	2050 (80.1%)	371 (14.5%)	102 (4.0%)	36 (1.4%)

Mean Hazard Values by Class

	wave_height_m	max_wave_height_12h_m	wave_period_s
Low	0.32	0.45	3.21
Moderate	0.7	0.86	4.43
High	1.09	1.34	5.42
Extreme	1.58	1.72	6.36

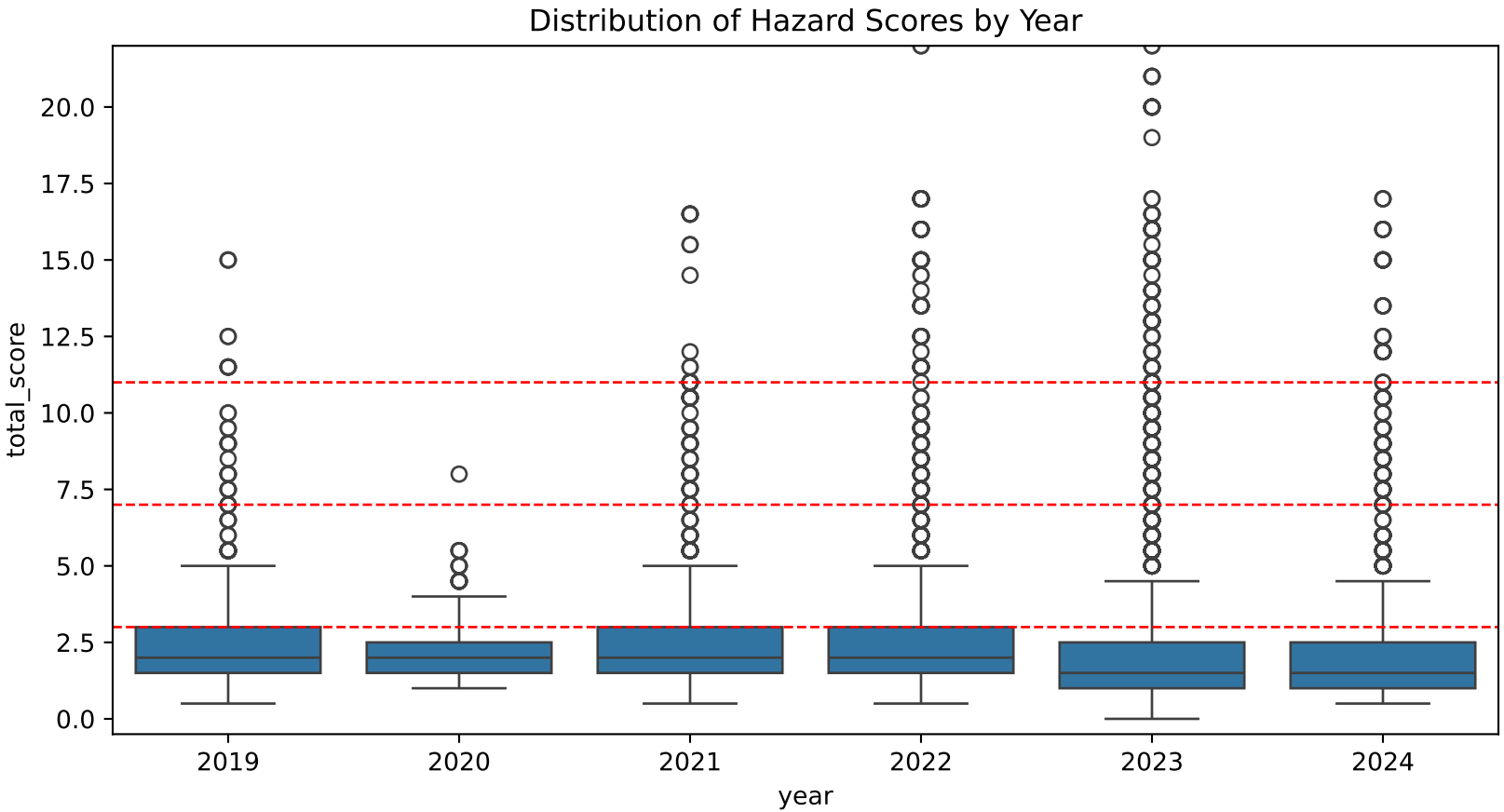
Distribution of Hazard Scores by Year
total_score
20.0
17.5
15.0
12.5
10.0
7.5
5.0
2.5
0.0
2019
2020
2021
2022
2023
2024
year

Predicted Hazard vs Photo Response

	target_time	closest_prediction_time	predicted_hazard_score	predicted_risk_level	photo_response_mean	photo_response_median
0	2022-09-01 07:40:16	2022-09-01 07:40:00	15.0	Extreme	1.9230769230769231	2.0
1	2022-09-01 11:25:03	2022-09-01 11:40:00	7.5	High	1.3076923076923077	1.0
2	2022-09-02 10:30:16	2022-09-02 10:40:00	2.0	Low	1.1538461538461535	1.0
3	2022-09-05 07:50:16	2022-09-05 07:40:00	1.0	Low	1.0	1.0
4	2022-09-11 08:40:15	2022-09-11 08:40:00	2.5	Low	1.1538461538461535	1.0
5	2022-09-13 10:30:15	2022-09-13 10:40:00	2.0	Low	1.1538461538461535	1.0
6	2022-09-14 11:10:16	2022-09-14 11:40:00	4.5	Moderate	2.4615384615384617	2.0
7	2022-09-14 13:50:16	2022-09-14 13:40:00	7.5	High	2.0	2.0
8	2022-09-18 15:50:15	2022-09-18 15:40:00	3.0	Moderate	1.5384615384615383	2.0
9	2022-09-19 18:23:10	2022-09-19 18:40:00	5.0	Moderate	2.4615384615384617	2.0
10	2022-09-20 15:50:15	2022-09-20 15:40:00	1.5	Low	1.2307692307692308	1.0
11	2022-09-22 16:43:03	2022-09-22 16:40:00	17.0	Extreme	2.769230769230769	3.0
12	2022-09-23 07:30:16	2022-09-23 07:40:00	13.5	Extreme	2.6923076923076925	3.0

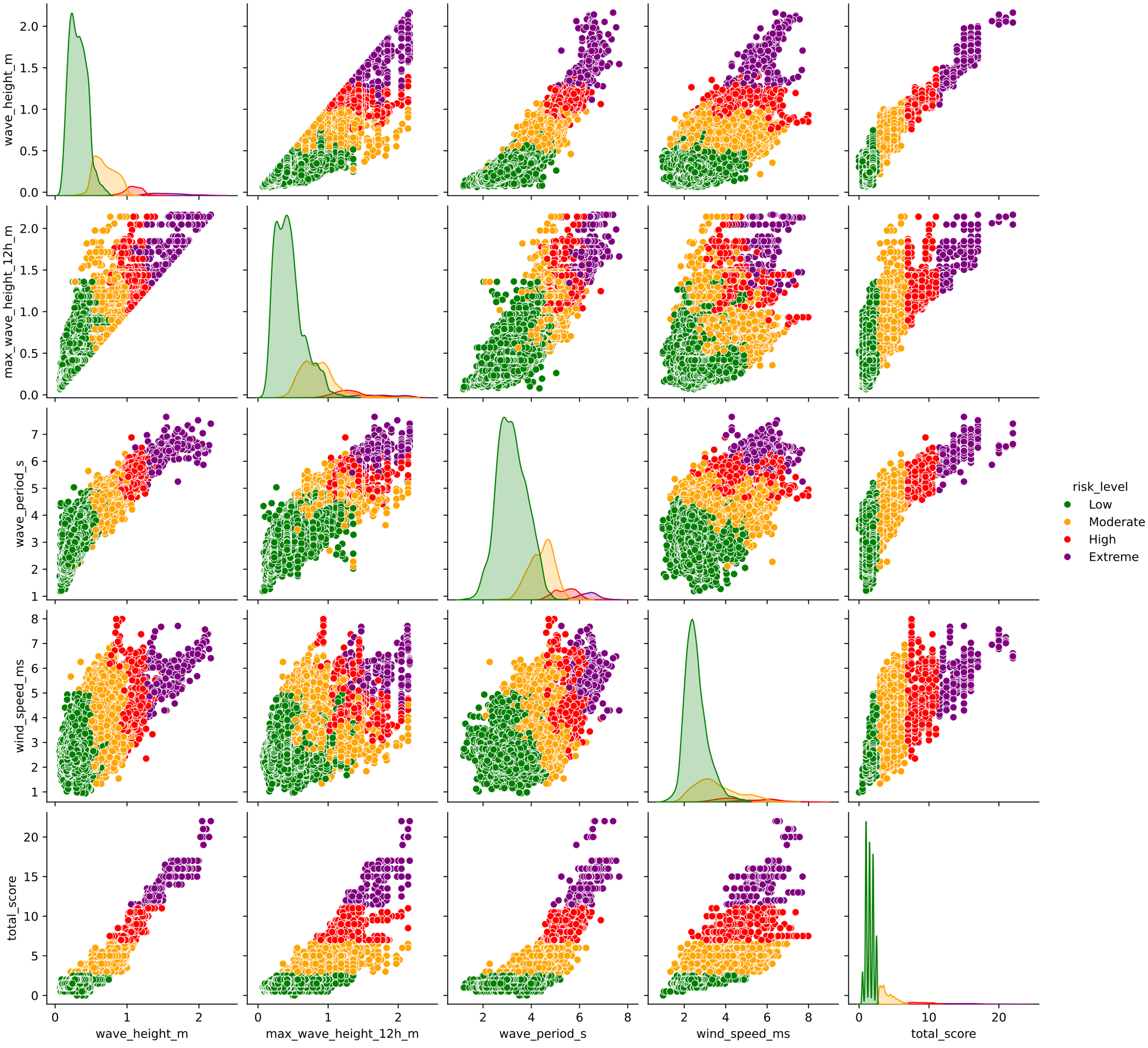
wave_height_m
max_wave_height_12h_m
wave_period_s
wind_speed_ms
total_score
risk_level
Low
Moderate
High
Extreme

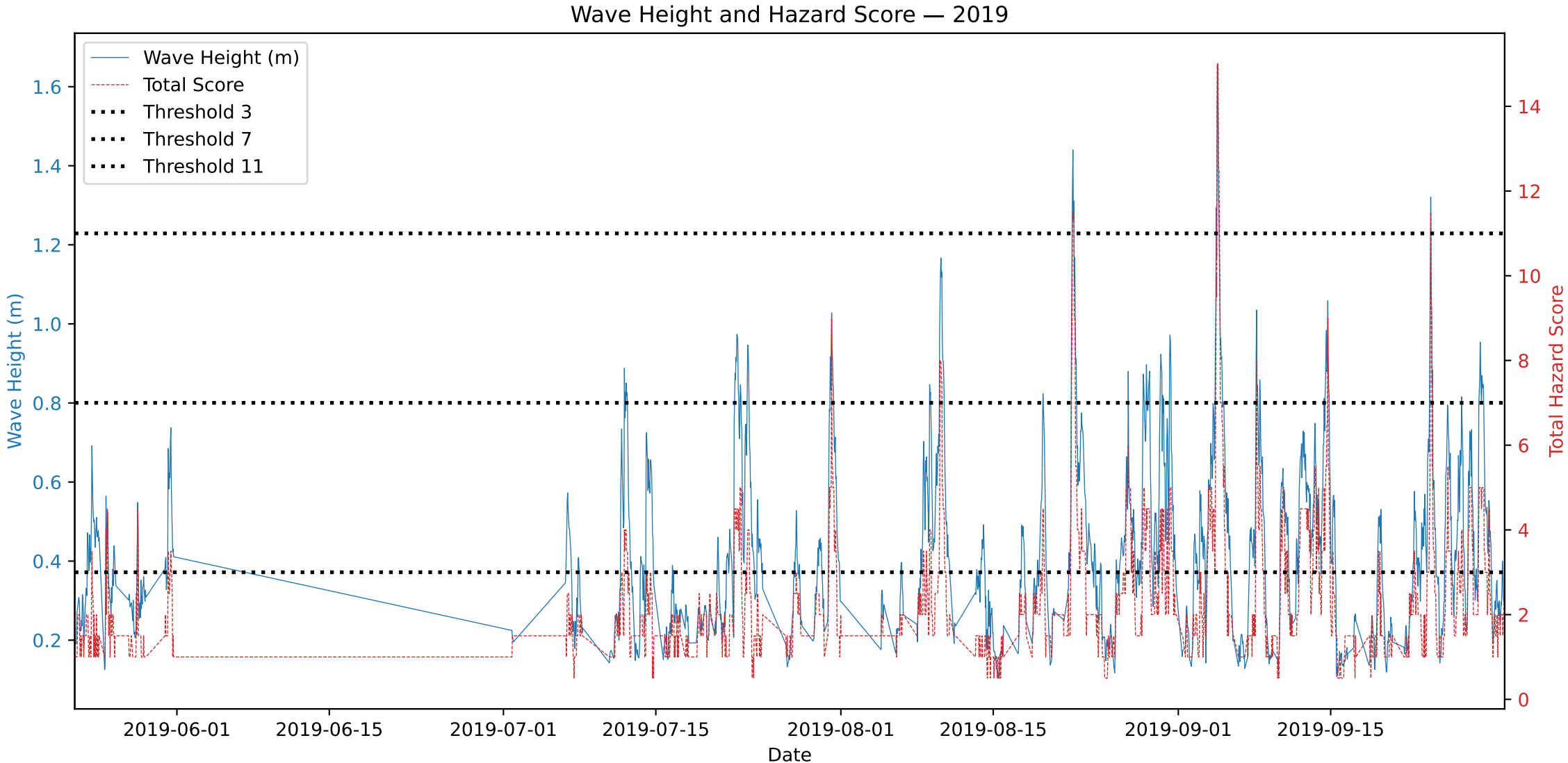
Wave Height and Hazard Score — 2019
Wave Height (m)
Total Score
Threshold 3
Threshold 7
Threshold 11
Wave Height (m)
Total Hazard Score
Date
0.2
0.4
0.6
0.8
1.0
1.2
1.4
1.6
0
2
4
6
8
10
12
14
2019-06-01
2019-06-15
2019-07-01
2019-07-15
2019-08-01
2019-08-15
2019-09-01
2019-09-15

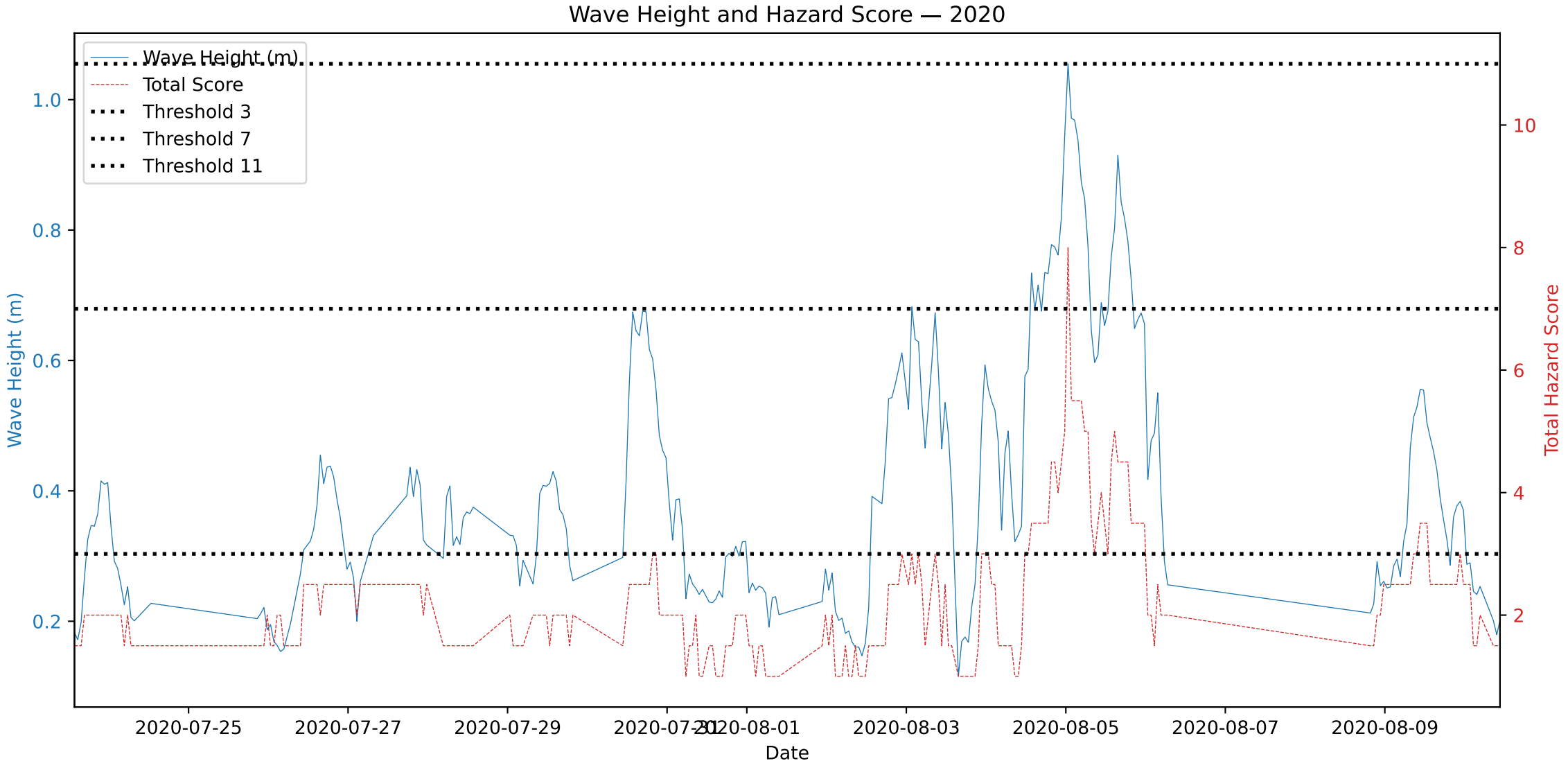
Wave Height and Hazard Score — 2020
Wave Height (m)
Total Score
Threshold 3
Threshold 7
Threshold 11
Wave Height (m)
Total Hazard Score
Date
1.0
0.8
0.6
0.4
0.2
10
8
6
4
2
2020-07-25
2020-07-27
2020-07-29
2020-07-31
2020-08-01
2020-08-03
2020-08-05
2020-08-07
2020-08-09

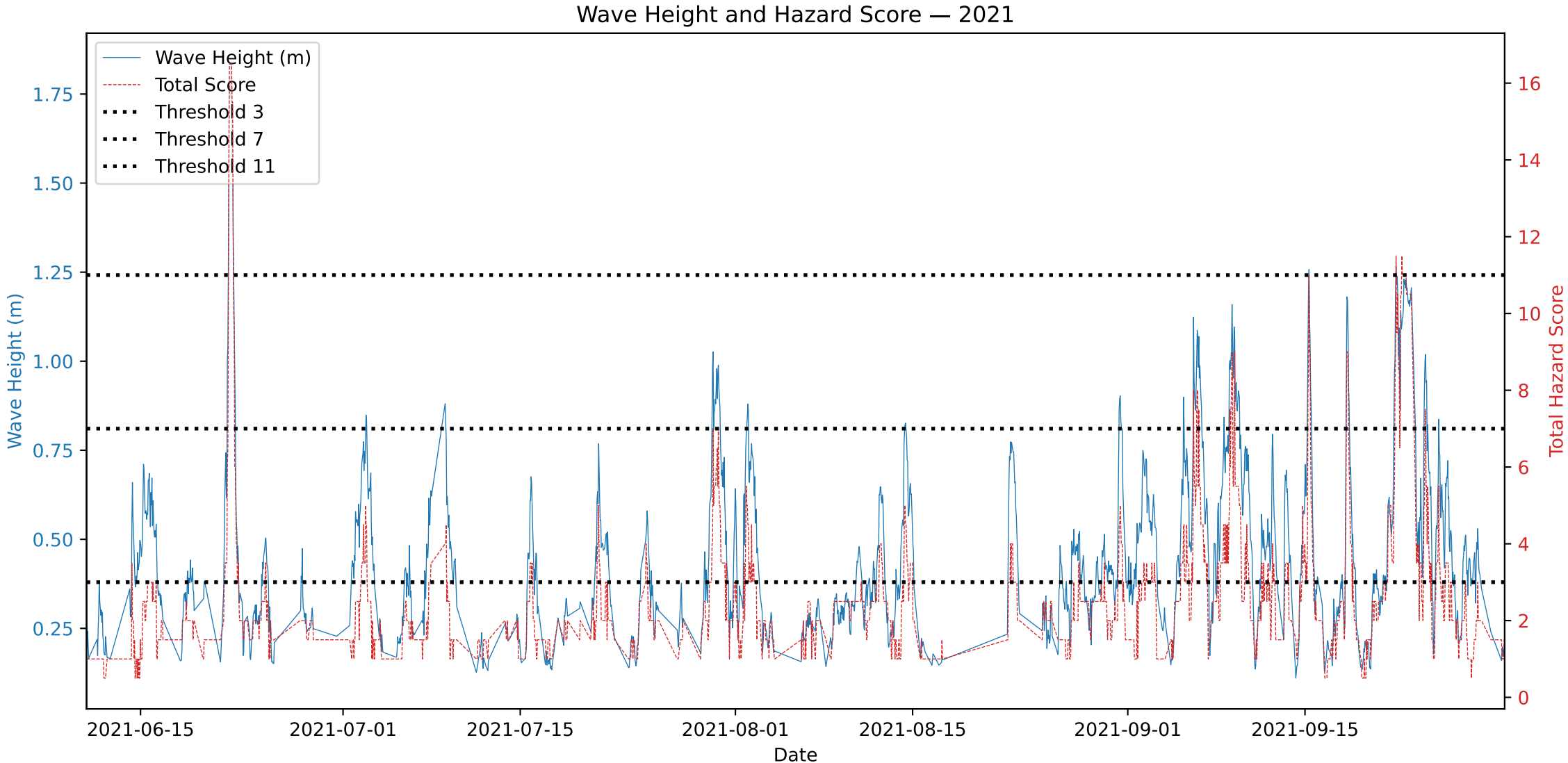
Wave Height and Hazard Score — 2021
Wave Height (m)
Total Score
Threshold 3
Threshold 7
Threshold 11
Wave Height (m)
Total Hazard Score
Date
1.75
1.50
1.25
1.00
0.75
0.50
0.25
16
14
12
10
8
6
4
2
0
2021-06-15
2021-07-01
2021-07-15
2021-08-01
2021-08-15
2021-09-01
2021-09-15

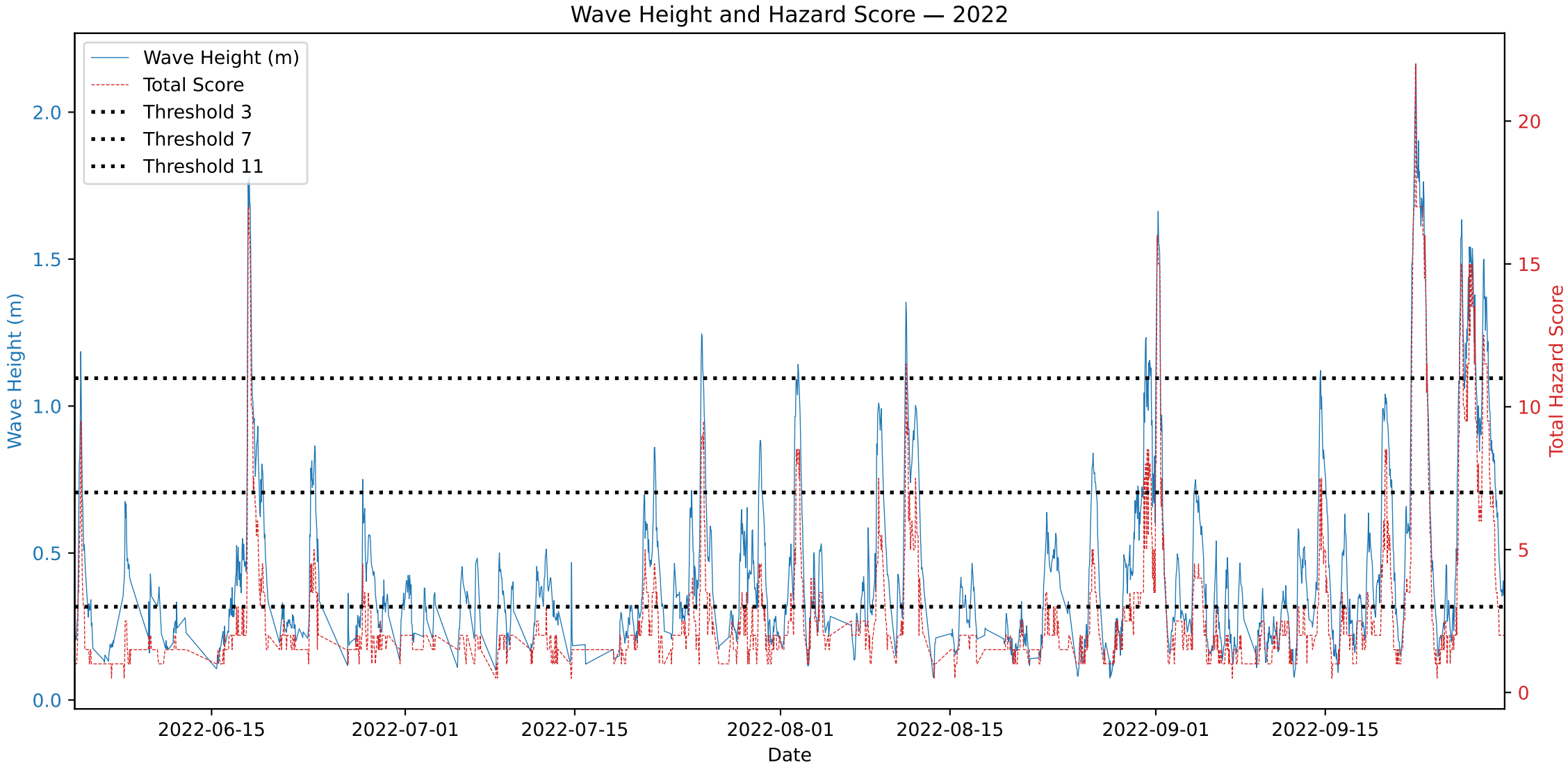
Wave Height and Hazard Score — 2022
Wave Height (m)
Total Score
Threshold 3
Threshold 7
Threshold 11
Wave Height (m)
Total Hazard Score
Date
0.0
0.5
1.0
1.5
2.0
0
5
10
15
20
2022-06-15
2022-07-01
2022-07-15
2022-08-01
2022-08-15
2022-09-01
2022-09-15

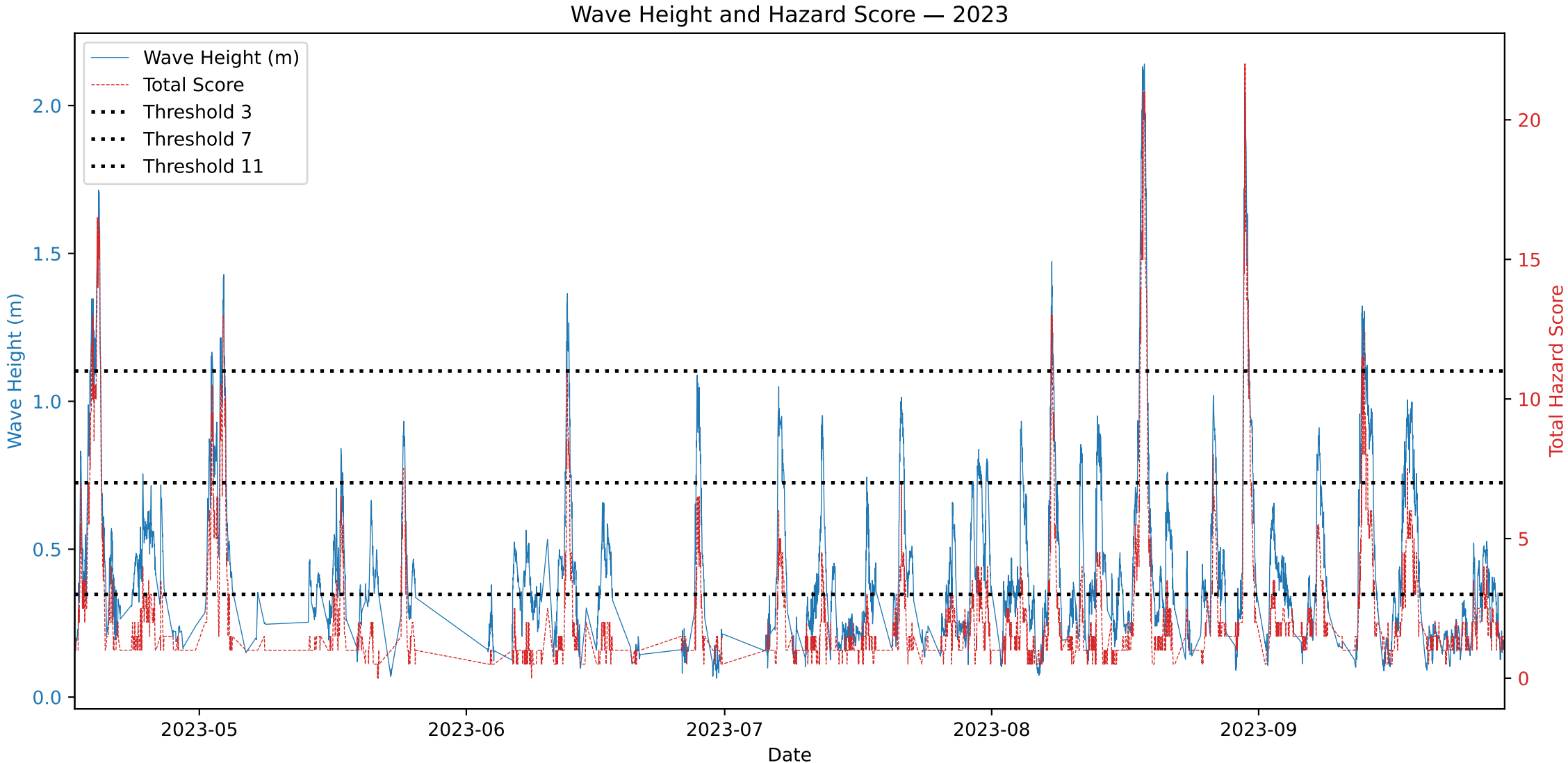
Wave Height and Hazard Score — 2023
Wave Height (m)
Total Score
Threshold 3
Threshold 7
Threshold 11
Wave Height (m)
Total Hazard Score
Date
0.0
0.5
1.0
1.5
2.0
0
5
10
15
20
2023-05
2023-06
2023-07
2023-08
2023-09

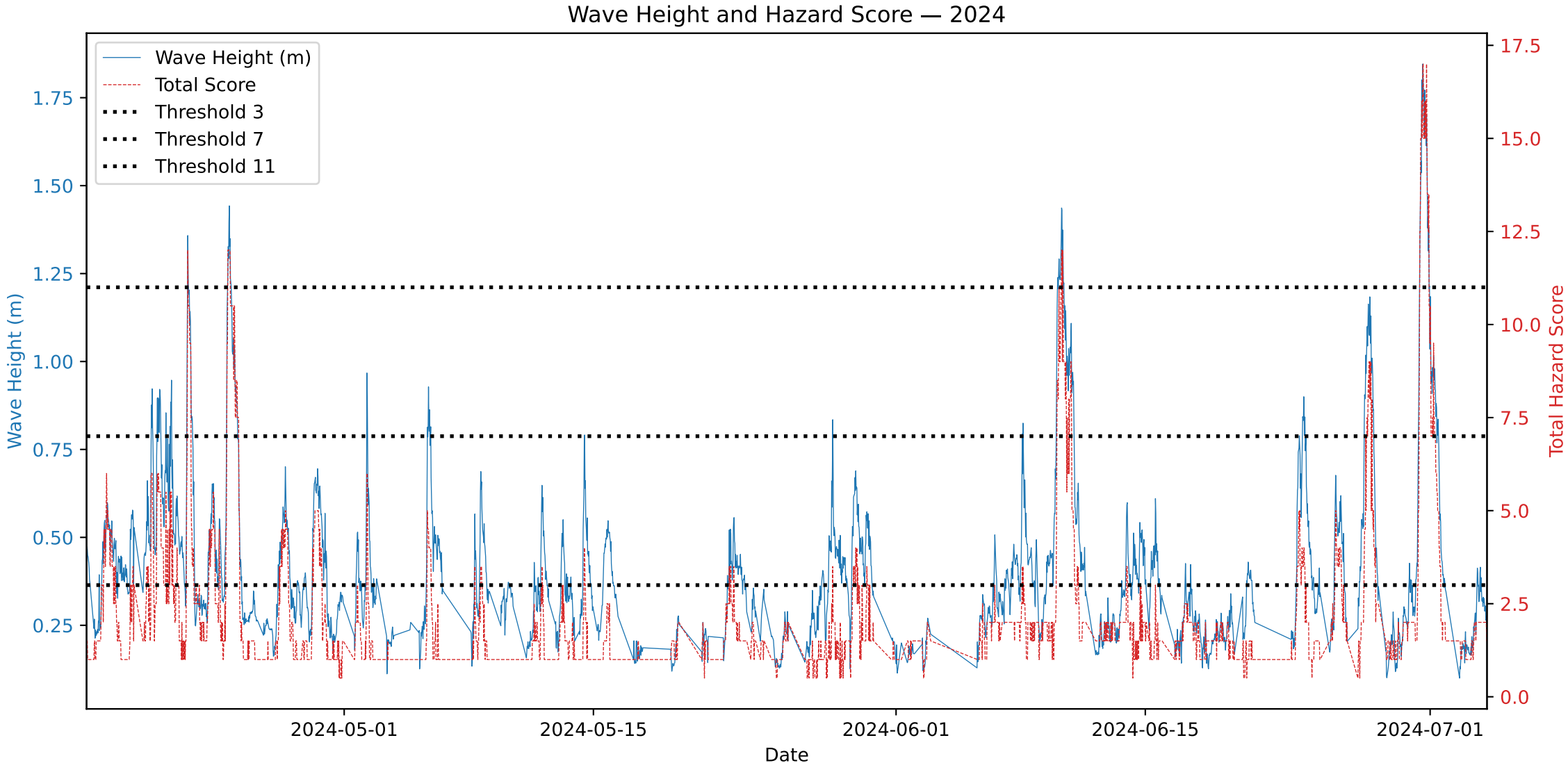
Wave Height and Hazard Score — 2024
Wave Height (m)
Total Score
Threshold 3
Threshold 7
Threshold 11
Wave Height (m)
Total Hazard Score
Date
0.25
0.50
0.75
1.00
1.25
1.50
1.75
0.0
2.5
5.0
7.5
10.0
12.5
15.0
17.5
2024-05-01
2024-05-15
2024-06-01
2024-06-15
2024-07-01