Total Hazard Class Counts

| | count | percent |
|---|---|---|
| Low | 12025 | 96.6% |
| Moderate | 302 | 2.4% |
| High | 116 | 0.9% |
| Extreme | 0 | 0.0% |

Hazard Class Counts per Year

| | Low | Moderate | High | Extreme |
|---|---|---|---|---|
| 2019 | 1571 (98.9%) | 15 (0.9%) | 3 (0.2%) | 0 (0.0%) |
| 2020 | 270 (100.0%) | 0 (0.0%) | 0 (0.0%) | 0 (0.0%) |
| 2021 | 1596 (97.3%) | 37 (2.3%) | 8 (0.5%) | 0 (0.0%) |
| 2022 | 1750 (94.0%) | 69 (3.7%) | 42 (2.3%) | 0 (0.0%) |
| 2023 | 4359 (96.4%) | 119 (2.6%) | 45 (1.0%) | 0 (0.0%) |
| 2024 | 2479 (96.9%) | 62 (2.4%) | 18 (0.7%) | 0 (0.0%) |

Mean Hazard Values by Class

| | wave_height_m | wave_period_s | wind_speed_ms | max_wave_height_6h_m |
|---|---|---|---|---|
| Low | 0.41 | 3.49 | 2.82 | 0.49 |
| Moderate | 1.26 | 5.92 | 5.15 | 1.44 |
| High | 1.75 | 6.65 | 5.99 | 1.85 |
| Extreme | nan | nan | nan | nan |

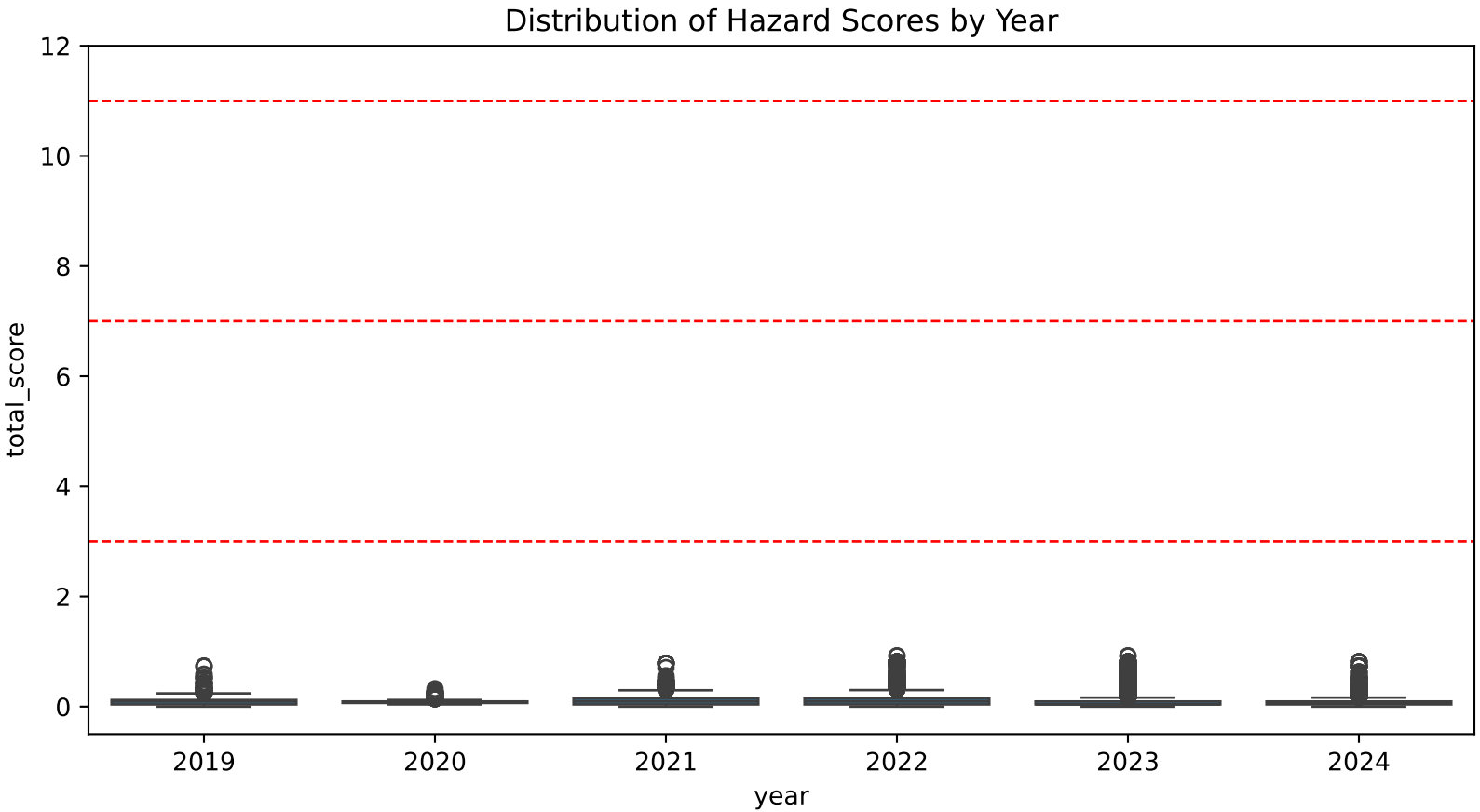
Distribution of Hazard Scores by Year
total_score
year
12
10
8
6
4
2
0
2019
2020
2021
2022
2023
2024

# Predicted Hazard vs Photo Response

| | target_time | closest_prediction_time | predicted_hazard_score | predicted_risk_level | photo_response_mean | photo_response_median |
|---|---|---|---|---|---|---|
| 0 | 2022-09-01 07:40:16 | 2022-09-01 07:40:00 | 13.0 | Extreme | 2.0 | 2.0 |
| 1 | 2022-09-01 11:25:03 | 2022-09-01 11:40:00 | 7.5 | High | 1.375 | 1.0 |
| 2 | 2022-09-02 10:30:16 | 2022-09-02 10:40:00 | 2.0 | Low | 1.1875 | 1.0 |
| 3 | 2022-09-05 07:50:16 | 2022-09-05 07:40:00 | 0.0 | Low | 1.0 | 1.0 |
| 4 | 2022-09-11 08:40:15 | 2022-09-11 08:40:00 | 2.0 | Low | 1.125 | 1.0 |
| 5 | 2022-09-13 10:30:15 | 2022-09-13 10:40:00 | 2.0 | Low | 1.125 | 1.0 |
| 6 | 2022-09-14 11:10:16 | 2022-09-14 11:40:00 | 4.0 | Moderate | 2.5 | 2.5 |
| 7 | 2022-09-14 13:50:16 | 2022-09-14 13:40:00 | 6.0 | Moderate | 2.0 | 2.0 |
| 8 | 2022-09-18 15:50:15 | 2022-09-18 15:40:00 | 3.0 | Moderate | 1.5 | 1.5 |
| 9 | 2022-09-19 18:23:10 | 2022-09-19 18:40:00 | 4.5 | Moderate | 2.5 | 2.5 |
| 10 | 2022-09-20 15:50:15 | 2022-09-20 15:40:00 | 1.5 | Low | 1.1875 | 1.0 |
| 11 | 2022-09-22 16:43:03 | 2022-09-22 16:40:00 | 14.0 | Extreme | 2.8125 | 3.0 |
| 12 | 2022-09-23 07:30:16 | 2022-09-23 07:40:00 | 11.0 | High | 2.625 | 3.0 |

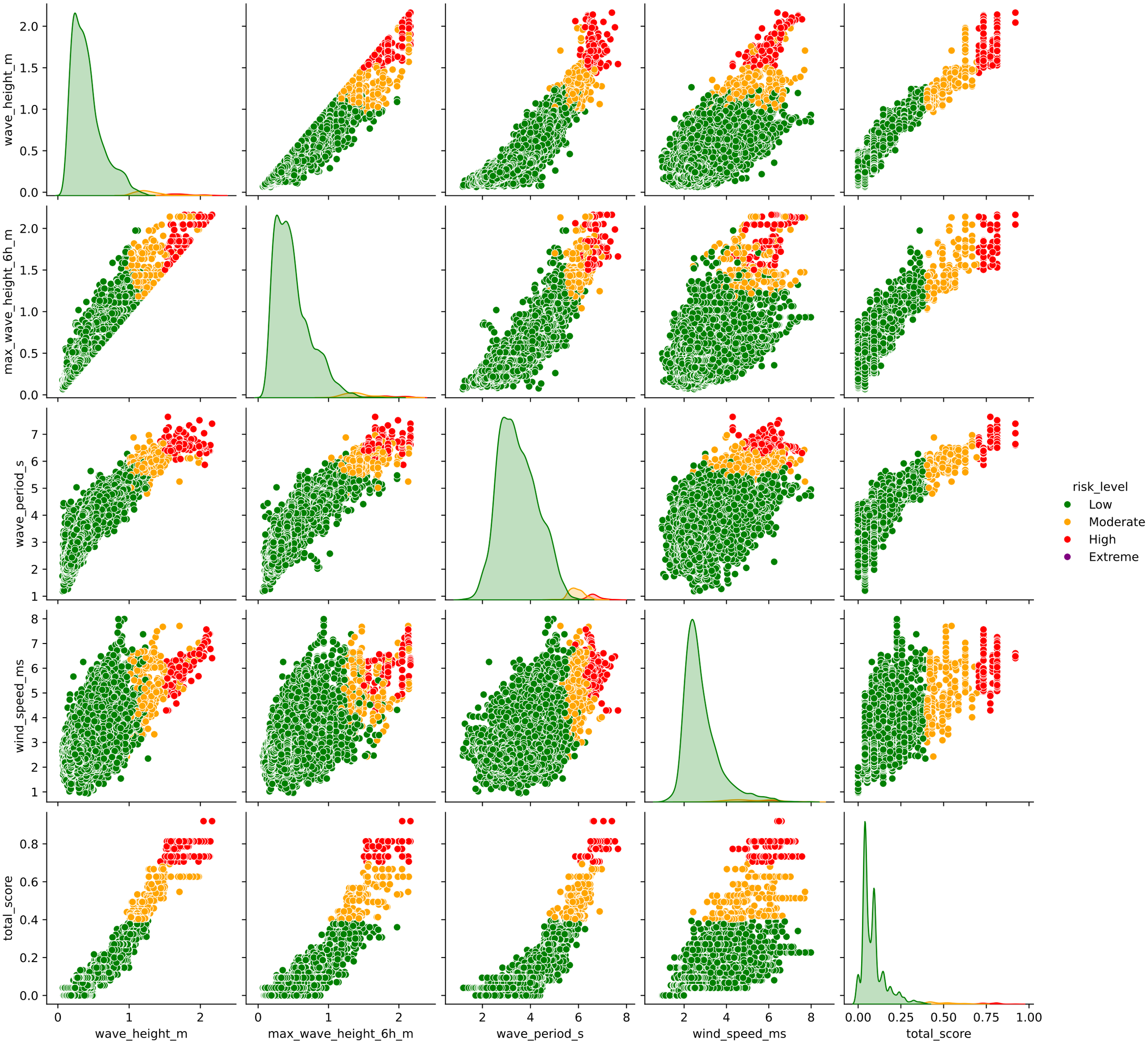
wave_height_m
max_wave_height_6h_m
wave_period_s
wind_speed_ms
total_score
risk_level
Low
Moderate
High
Extreme

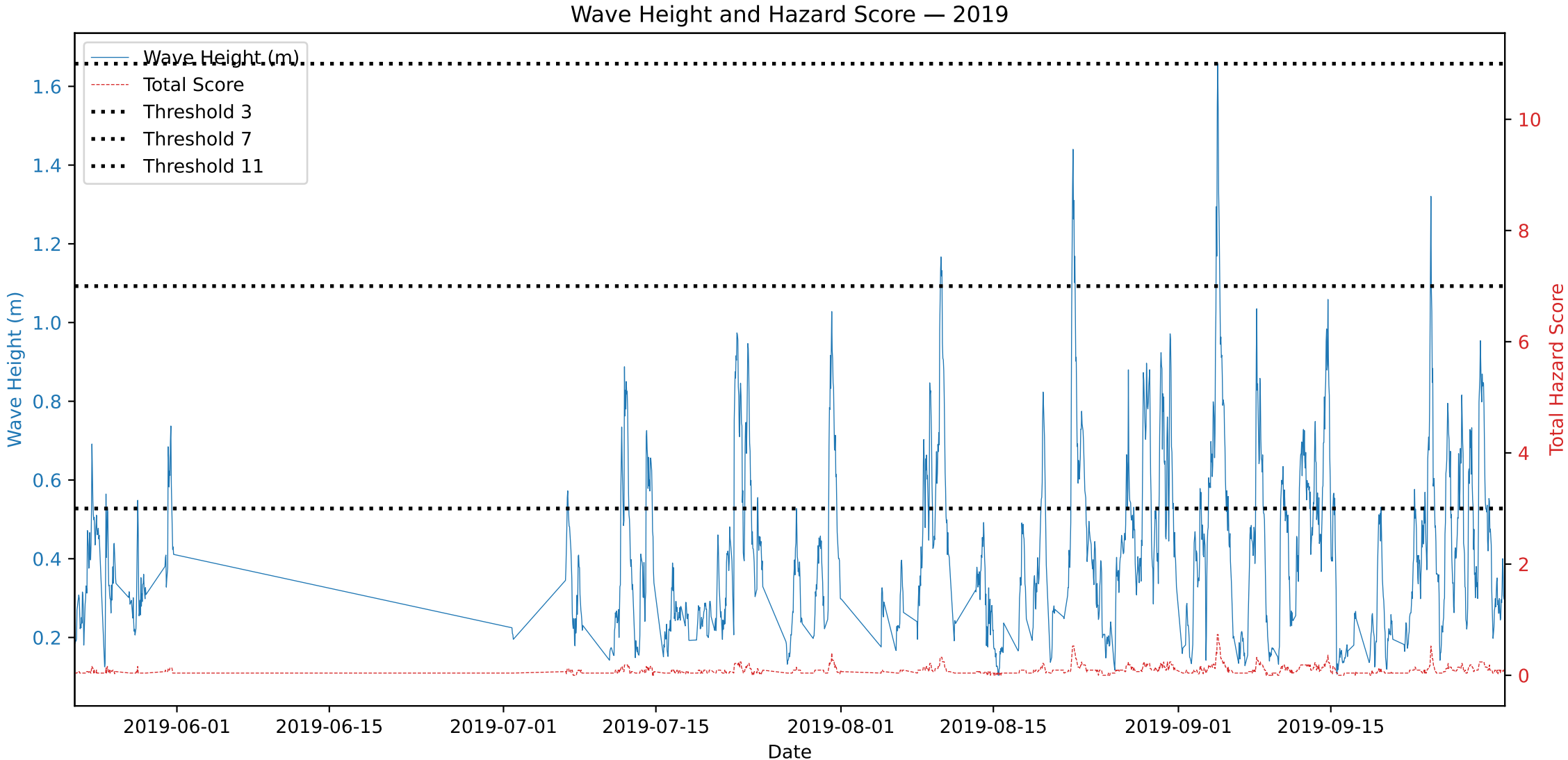
Wave Height and Hazard Score — 2019
Wave Height (m)
Total Score
Threshold 3
Threshold 7
Threshold 11
Wave Height (m)
Total Hazard Score
Date
1.6
1.4
1.2
1.0
0.8
0.6
0.4
0.2
10
8
6
4
2
0
2019-06-01
2019-06-15
2019-07-01
2019-07-15
2019-08-01
2019-08-15
2019-09-01
2019-09-15

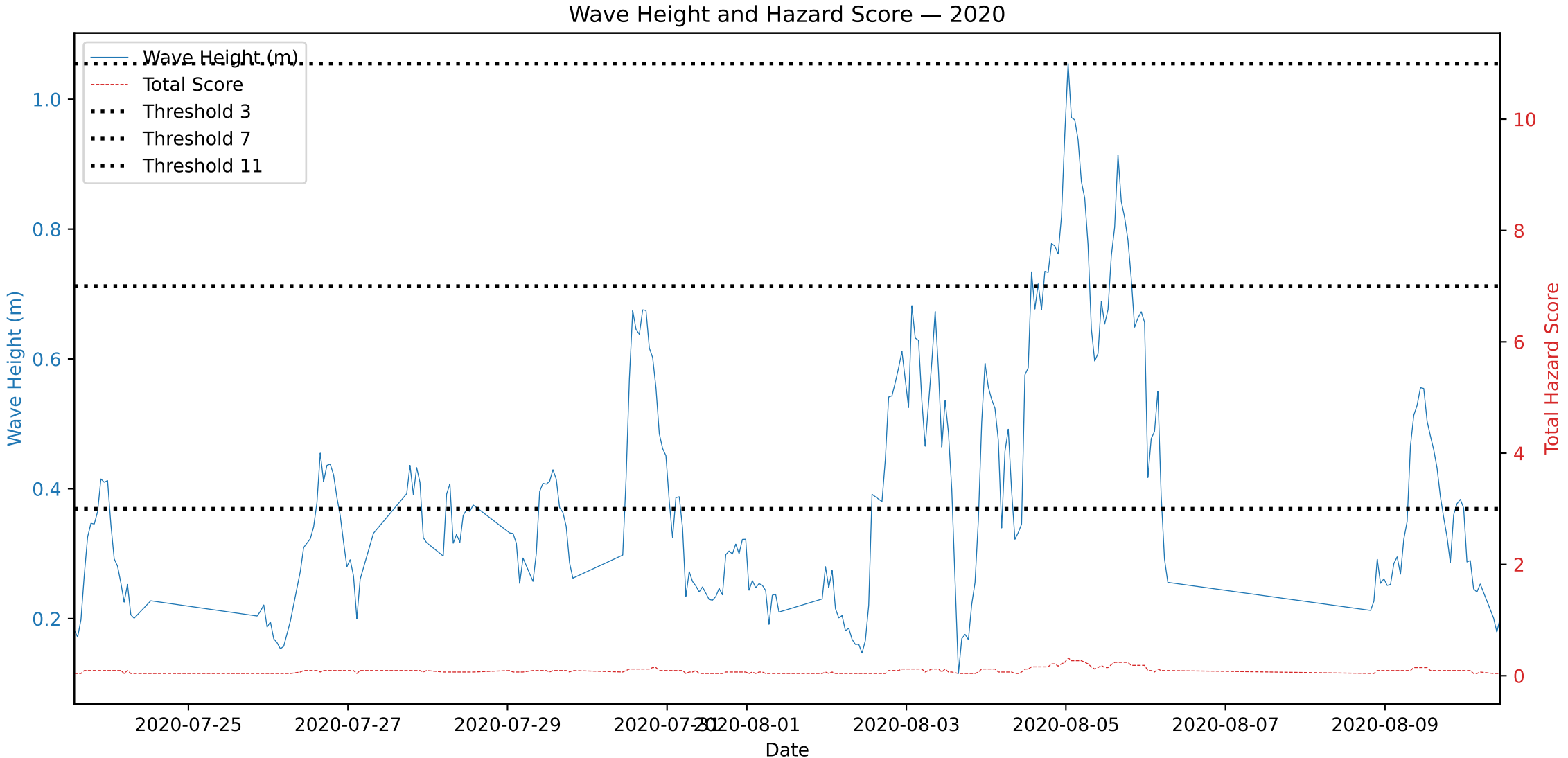
Wave Height and Hazard Score — 2020
Wave Height (m)
Total Score
Threshold 3
Threshold 7
Threshold 11
Wave Height (m)
Total Hazard Score
Date
1.0
0.8
0.6
0.4
0.2
10
8
6
4
2
0
2020-07-25
2020-07-27
2020-07-29
2020-07-31
2020-08-01
2020-08-03
2020-08-05
2020-08-07
2020-08-09

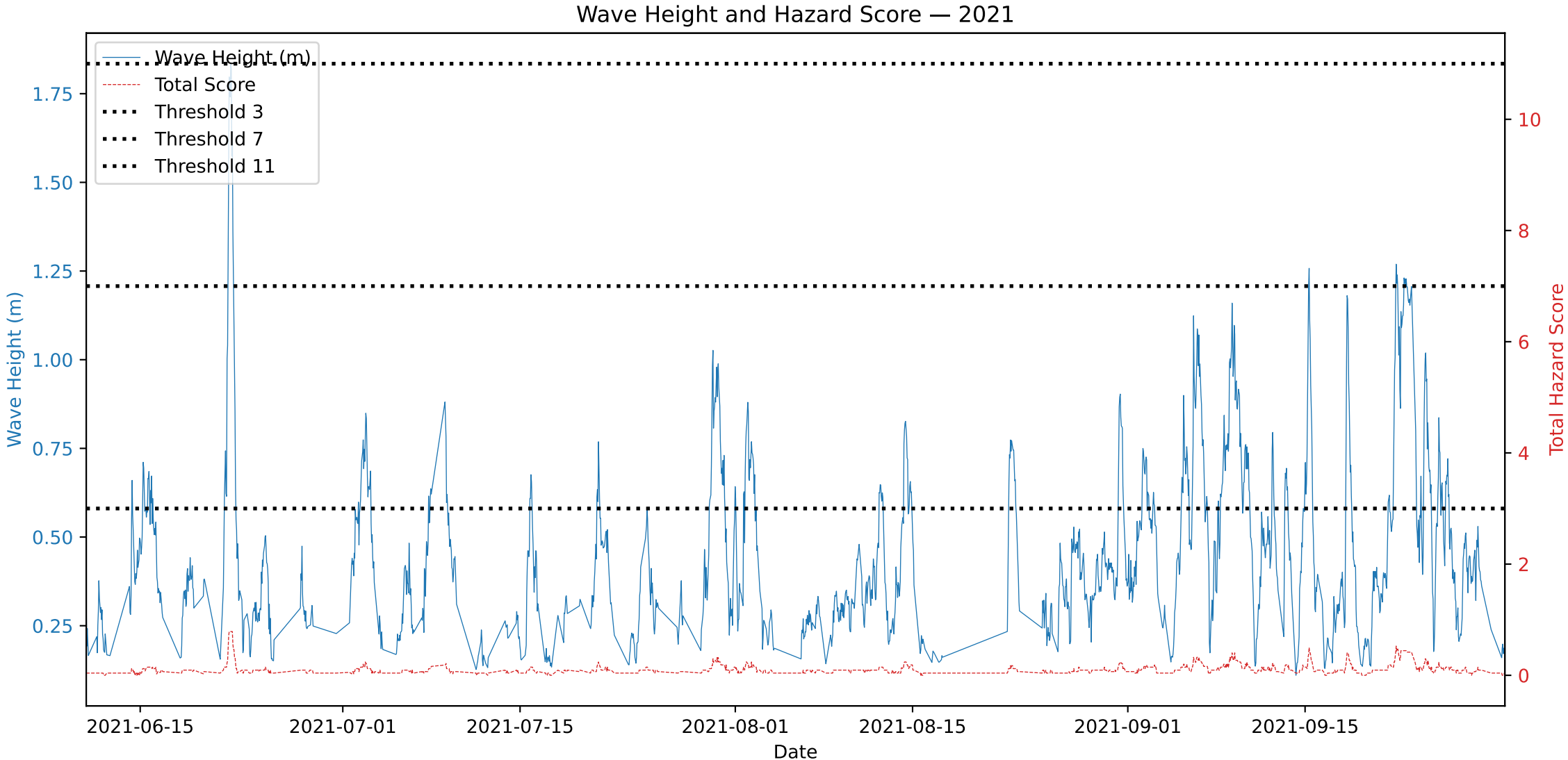
Wave Height and Hazard Score — 2021
Wave Height (m)
Total Score
Threshold 3
Threshold 7
Threshold 11
Wave Height (m)
Total Hazard Score
Date
1.75
1.50
1.25
1.00
0.75
0.50
0.25
10
8
6
4
2
0
2021-06-15
2021-07-01
2021-07-15
2021-08-01
2021-08-15
2021-09-01
2021-09-15

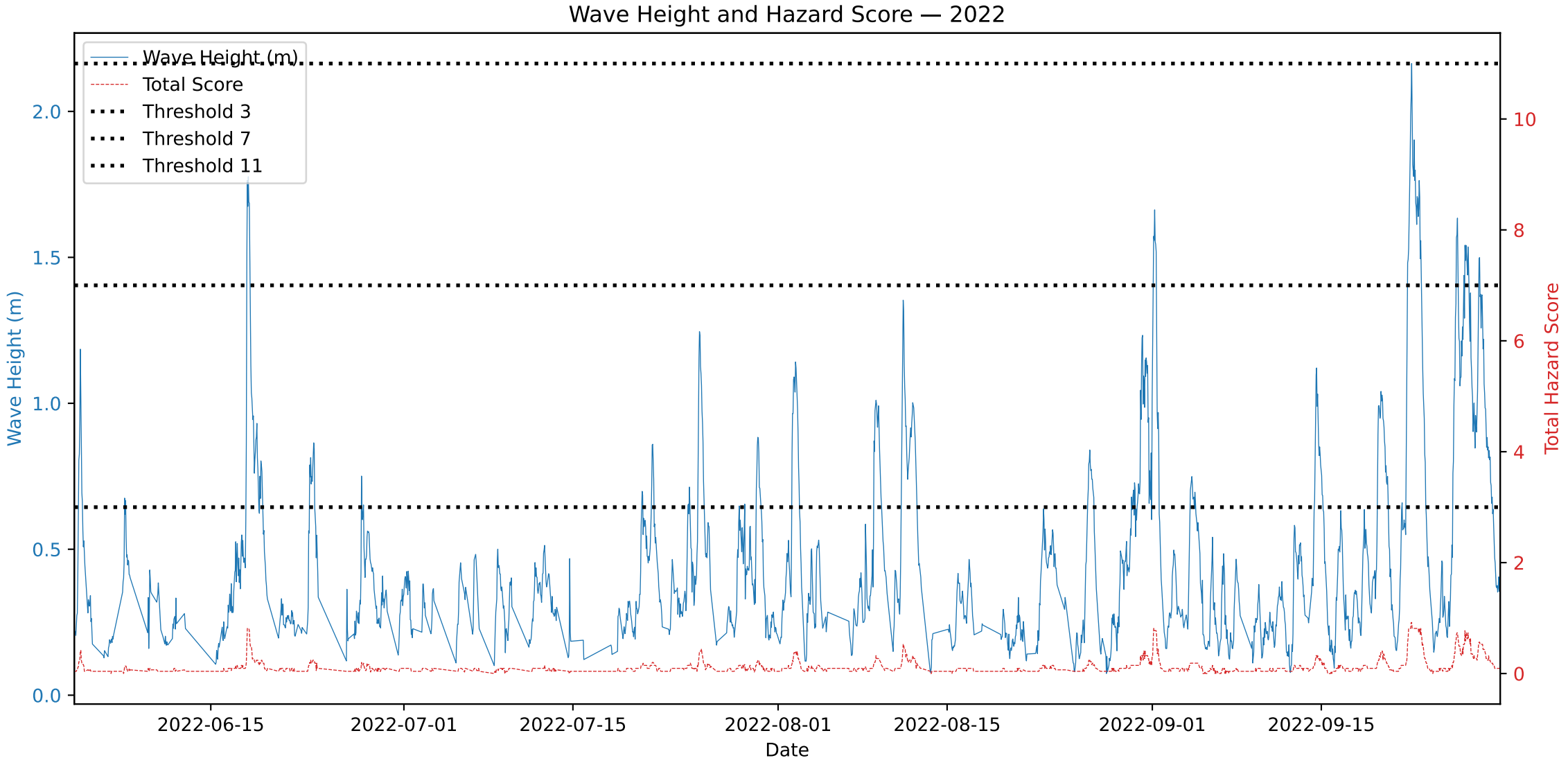
Wave Height and Hazard Score — 2022
Wave Height (m)
Total Score
Threshold 3
Threshold 7
Threshold 11
Wave Height (m)
Total Hazard Score
Date
0.0
0.5
1.0
1.5
2.0
0
2
4
6
8
10
2022-06-15
2022-07-01
2022-07-15
2022-08-01
2022-08-15
2022-09-01
2022-09-15

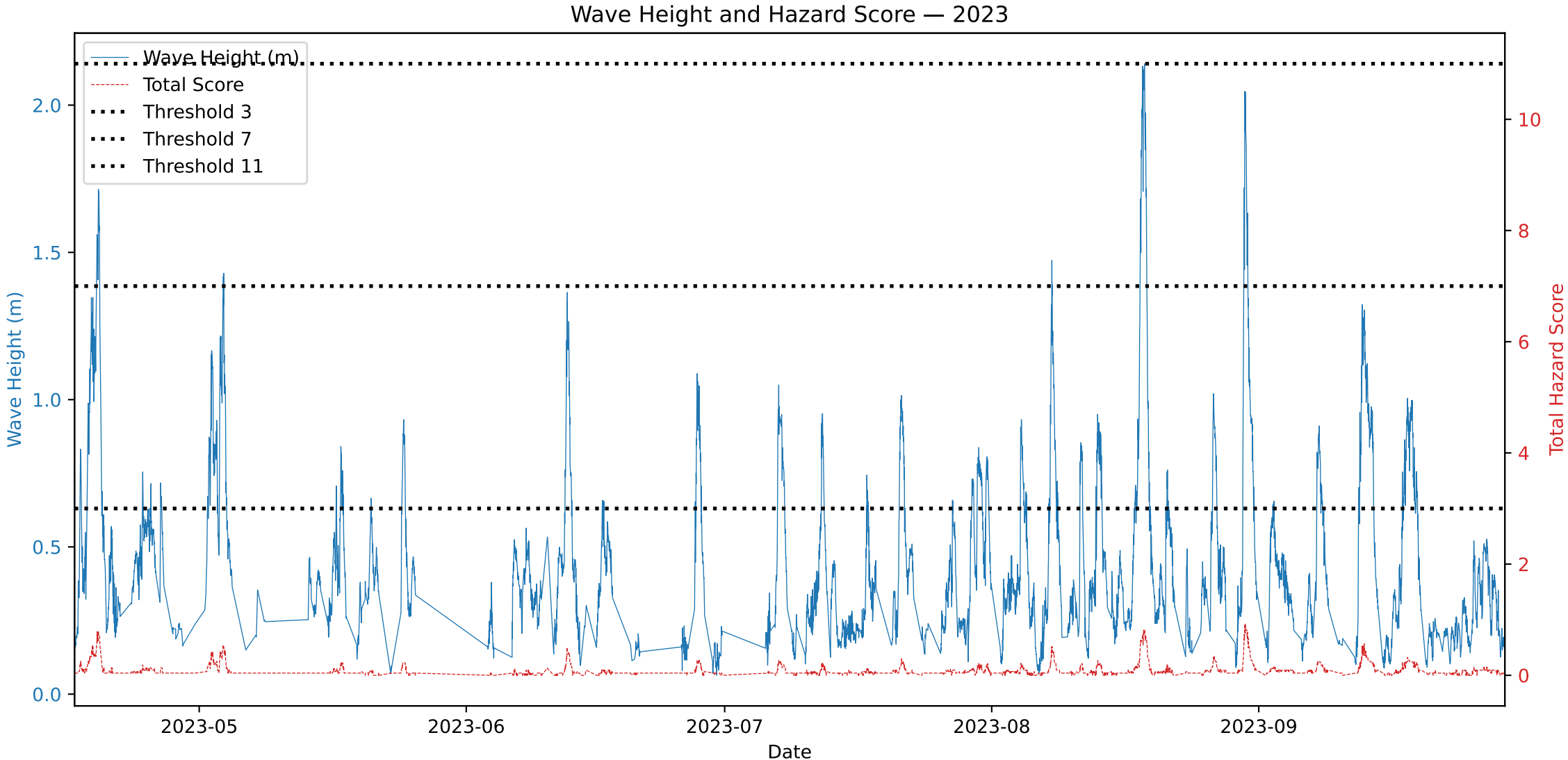
Wave Height and Hazard Score — 2023
Wave Height (m)
Total Score
Threshold 3
Threshold 7
Threshold 11
Wave Height (m)
Total Hazard Score
Date
0.0
0.5
1.0
1.5
2.0
0
2
4
6
8
10
2023-05
2023-06
2023-07
2023-08
2023-09

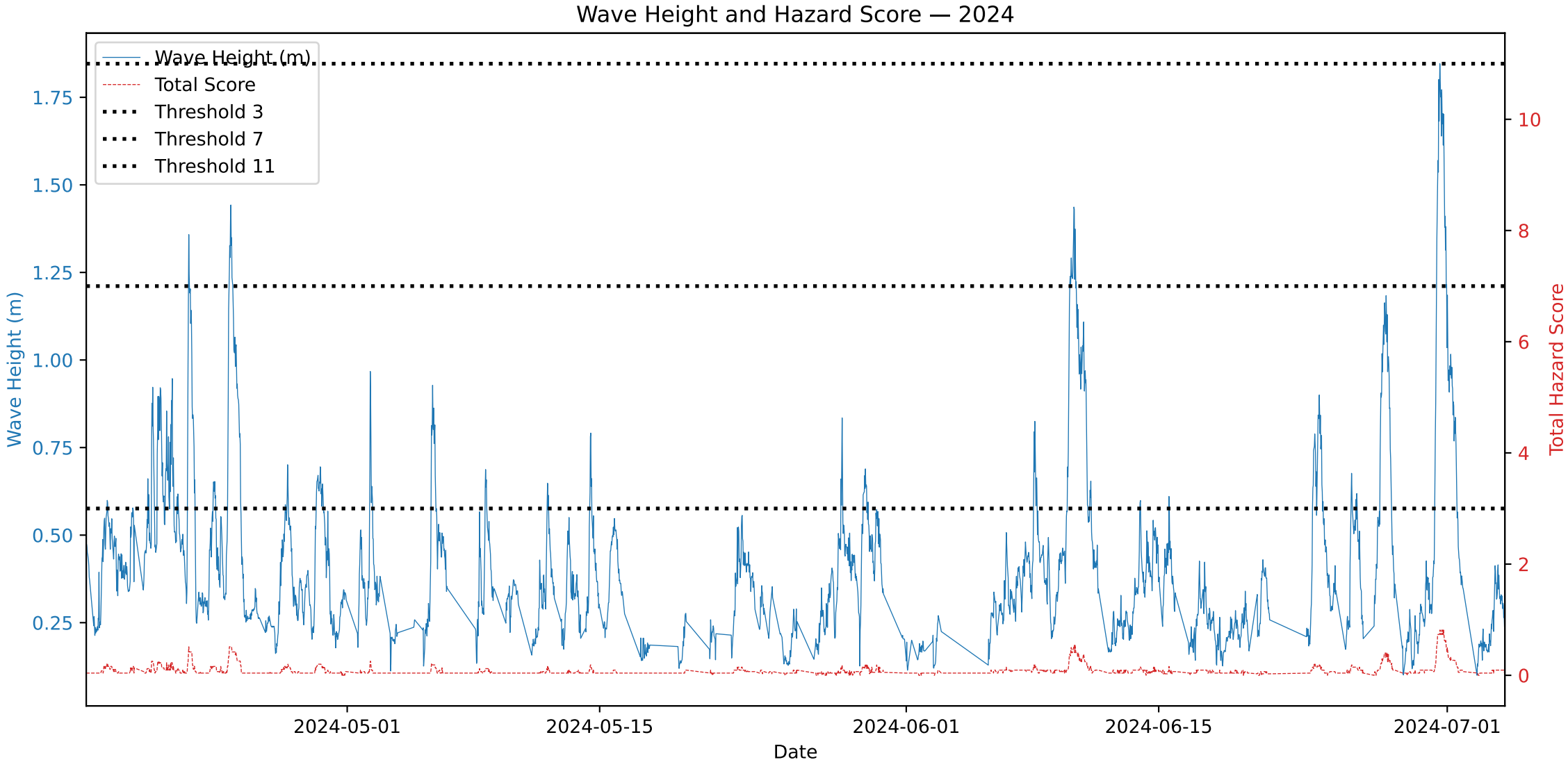
Wave Height and Hazard Score — 2024
Wave Height (m)
Total Score
Threshold 3
Threshold 7
Threshold 11
Wave Height (m)
Total Hazard Score
Date
0.25
0.50
0.75
1.00
1.25
1.50
1.75
0
2
4
6
8
10
2024-05-01
2024-05-15
2024-06-01
2024-06-15
2024-07-01