Total Hazard Class Counts

	count	percent
Low	9770	78.5%
Moderate	2209	17.8%
High	346	2.8%
Extreme	118	0.9%

Hazard Class Counts per Year

	Low	Moderate	High	Extreme
2019	1216 (76.5%)	352 (22.2%)	18 (1.1%)	3 (0.2%)
2020	228 (84.4%)	42 (15.6%)	0 (0.0%)	0 (0.0%)
2021	1203 (73.3%)	393 (23.9%)	37 (2.3%)	8 (0.5%)
2022	1329 (71.4%)	410 (22.0%)	79 (4.2%)	43 (2.3%)
2023	3633 (80.3%)	699 (15.5%)	145 (3.2%)	46 (1.0%)
2024	2161 (84.4%)	313 (12.2%)	67 (2.6%)	18 (0.7%)

Mean Hazard Values by Class

	wave_height_m	wave_period_s	wind_speed_ms	max_wave_height_12h_m
Low	0.33	3.25	2.64	0.46
Moderate	0.75	4.55	3.59	0.93
High	1.24	5.81	5.2	1.46
Extreme	1.75	6.65	5.98	1.87

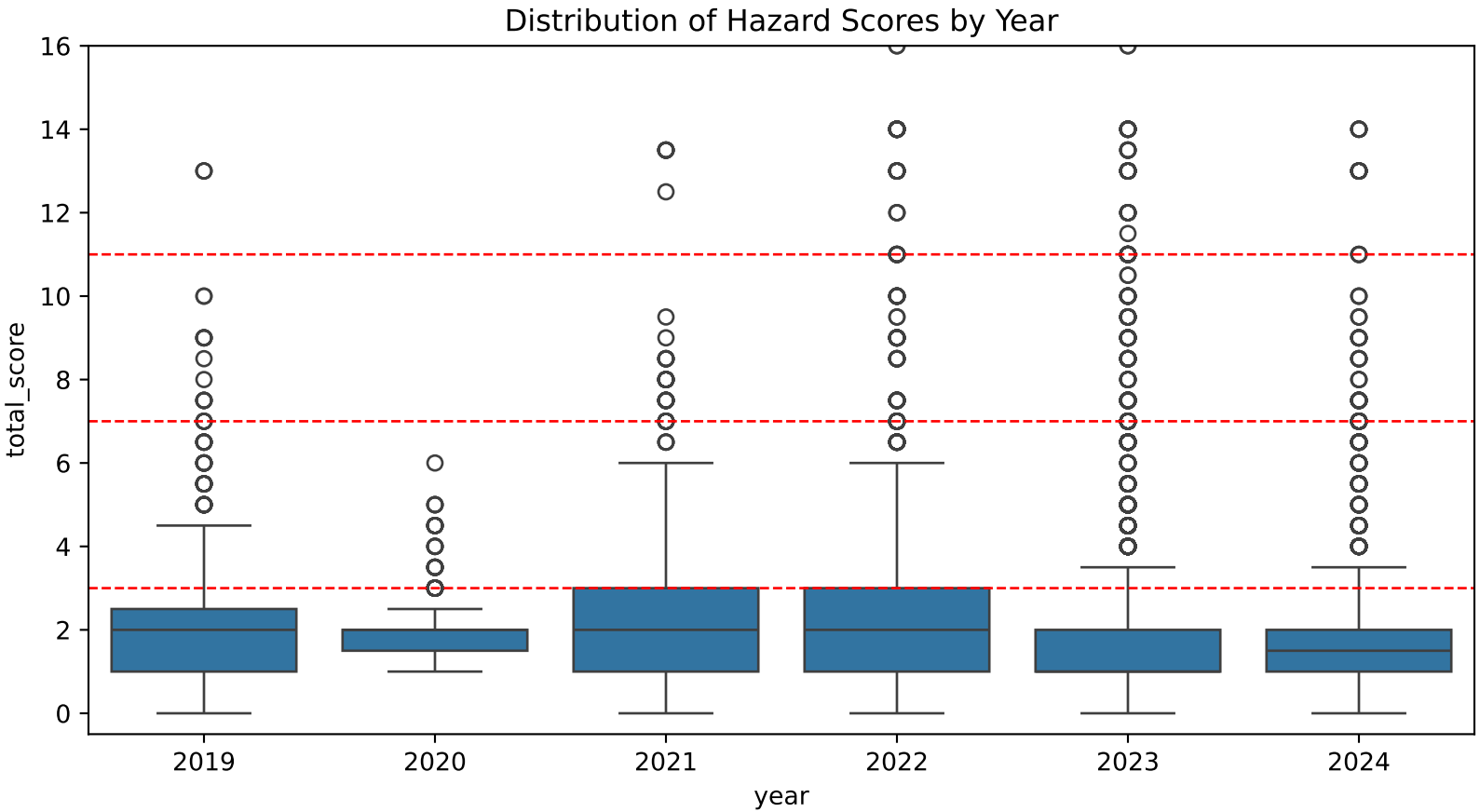
Distribution of Hazard Scores by Year
total_score
16
14
12
10
8
6
4
2
0
2019
2020
2021
2022
2023
2024
year

Predicted Hazard vs Photo Response

	target_time	closest_prediction_time	predicted_hazard_score	predicted_risk_level	photo_response_mean	photo_response_median
0	2022-09-01 07:40:16	2022-09-01 07:40:00	13.0	Extreme	2.0	2.0
1	2022-09-01 11:25:03	2022-09-01 11:40:00	7.5	High	1.375	1.0
2	2022-09-02 10:30:16	2022-09-02 10:40:00	2.0	Low	1.1875	1.0
3	2022-09-05 07:50:16	2022-09-05 07:40:00	0.0	Low	1.0	1.0
4	2022-09-11 08:40:15	2022-09-11 08:40:00	2.0	Low	1.125	1.0
5	2022-09-13 10:30:15	2022-09-13 10:40:00	2.0	Low	1.125	1.0
6	2022-09-14 11:10:16	2022-09-14 11:40:00	4.0	Moderate	2.5	2.5
7	2022-09-14 13:50:16	2022-09-14 13:40:00	6.0	Moderate	2.0	2.0
8	2022-09-18 15:50:15	2022-09-18 15:40:00	3.0	Moderate	1.5	1.5
9	2022-09-19 18:23:10	2022-09-19 18:40:00	4.5	Moderate	2.5	2.5
10	2022-09-20 15:50:15	2022-09-20 15:40:00	1.5	Low	1.1875	1.0
11	2022-09-22 16:43:03	2022-09-22 16:40:00	14.0	Extreme	2.8125	3.0
12	2022-09-23 07:30:16	2022-09-23 07:40:00	11.0	High	2.625	3.0

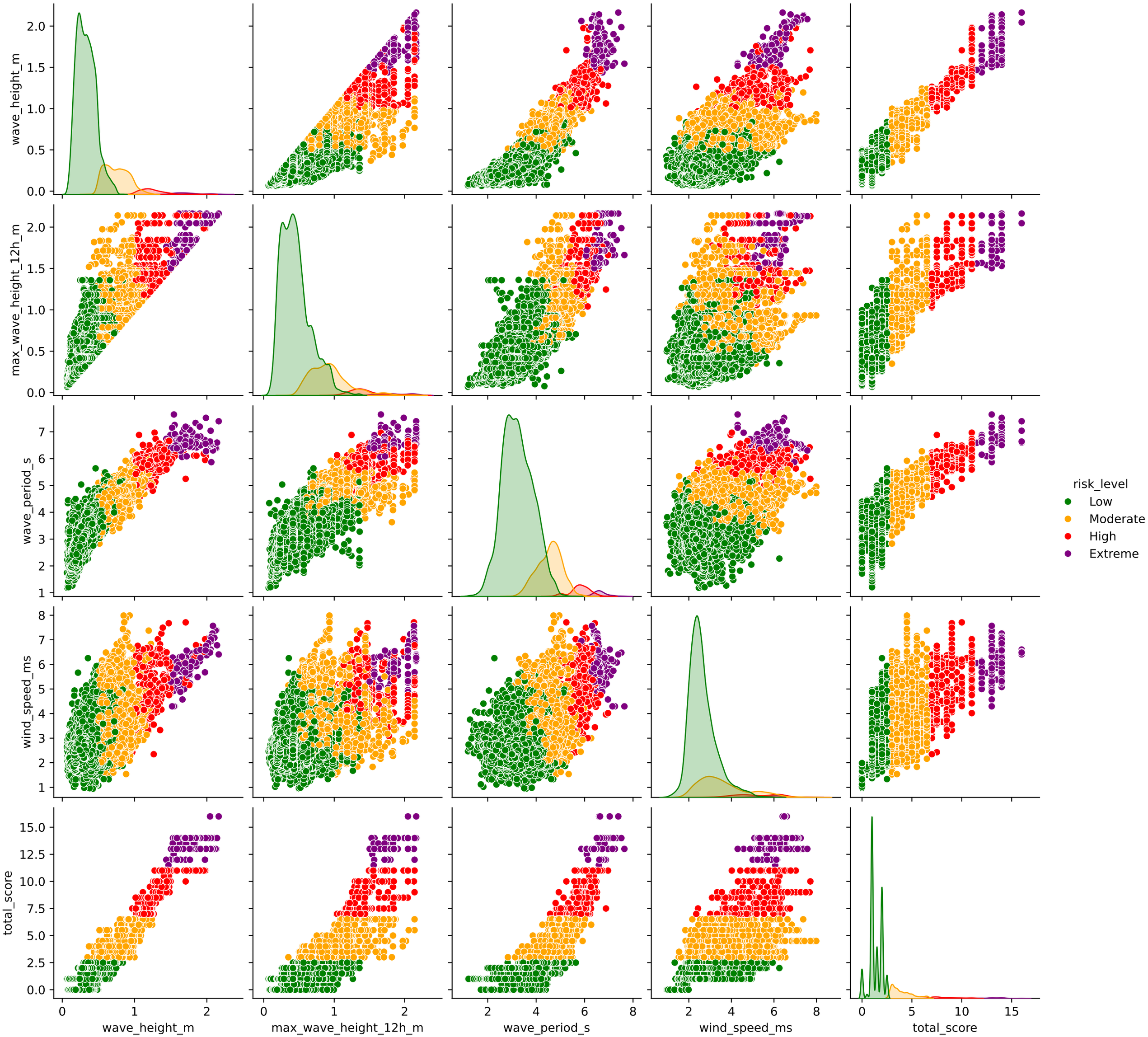
wave_height_m
max_wave_height_12h_m
wave_period_s
wind_speed_ms
total_score
risk_level
Low
Moderate
High
Extreme

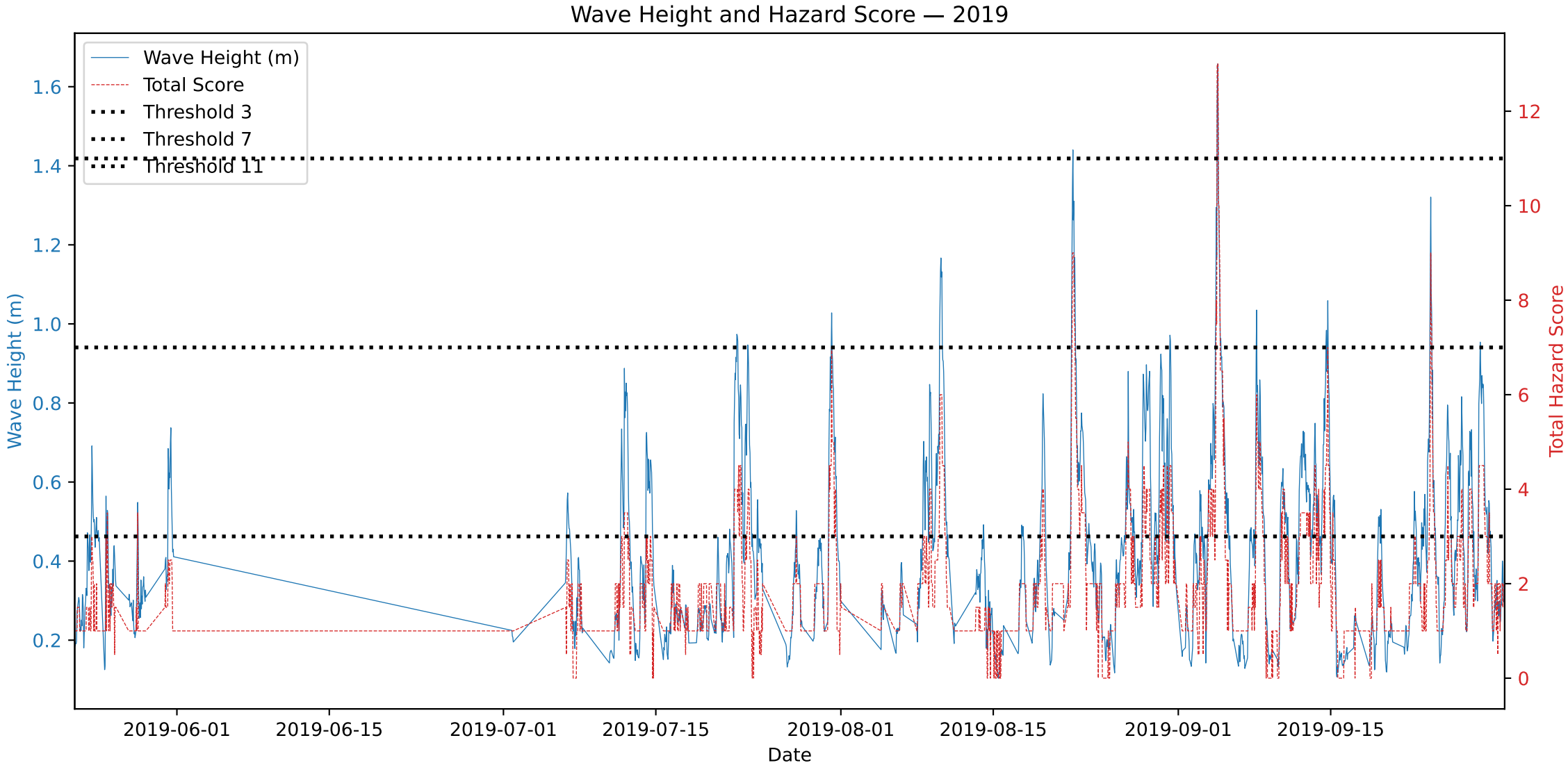
Wave Height and Hazard Score — 2019
Wave Height (m)
Total Score
Threshold 3
Threshold 7
Threshold 11
Wave Height (m)
Total Hazard Score
Date
0.2
0.4
0.6
0.8
1.0
1.2
1.4
1.6
0
2
4
6
8
10
12
2019-06-01
2019-06-15
2019-07-01
2019-07-15
2019-08-01
2019-08-15
2019-09-01
2019-09-15

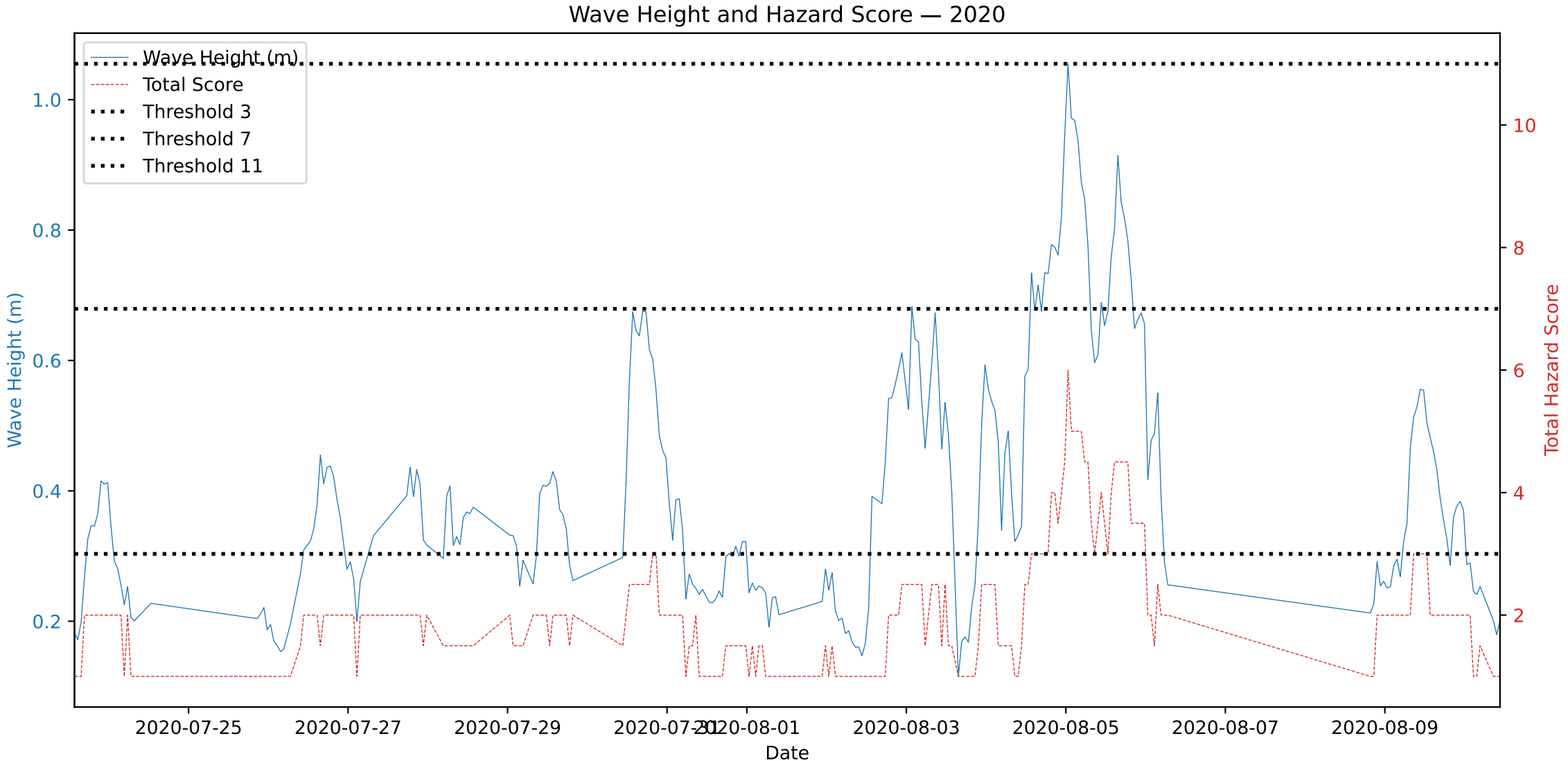
Wave Height and Hazard Score — 2020
Wave Height (m)
Total Score
Threshold 3
Threshold 7
Threshold 11
Wave Height (m)
Total Hazard Score
Date
1.0
0.8
0.6
0.4
0.2
10
8
6
4
2
2020-07-25
2020-07-27
2020-07-29
2020-07-31
2020-08-01
2020-08-03
2020-08-05
2020-08-07
2020-08-09

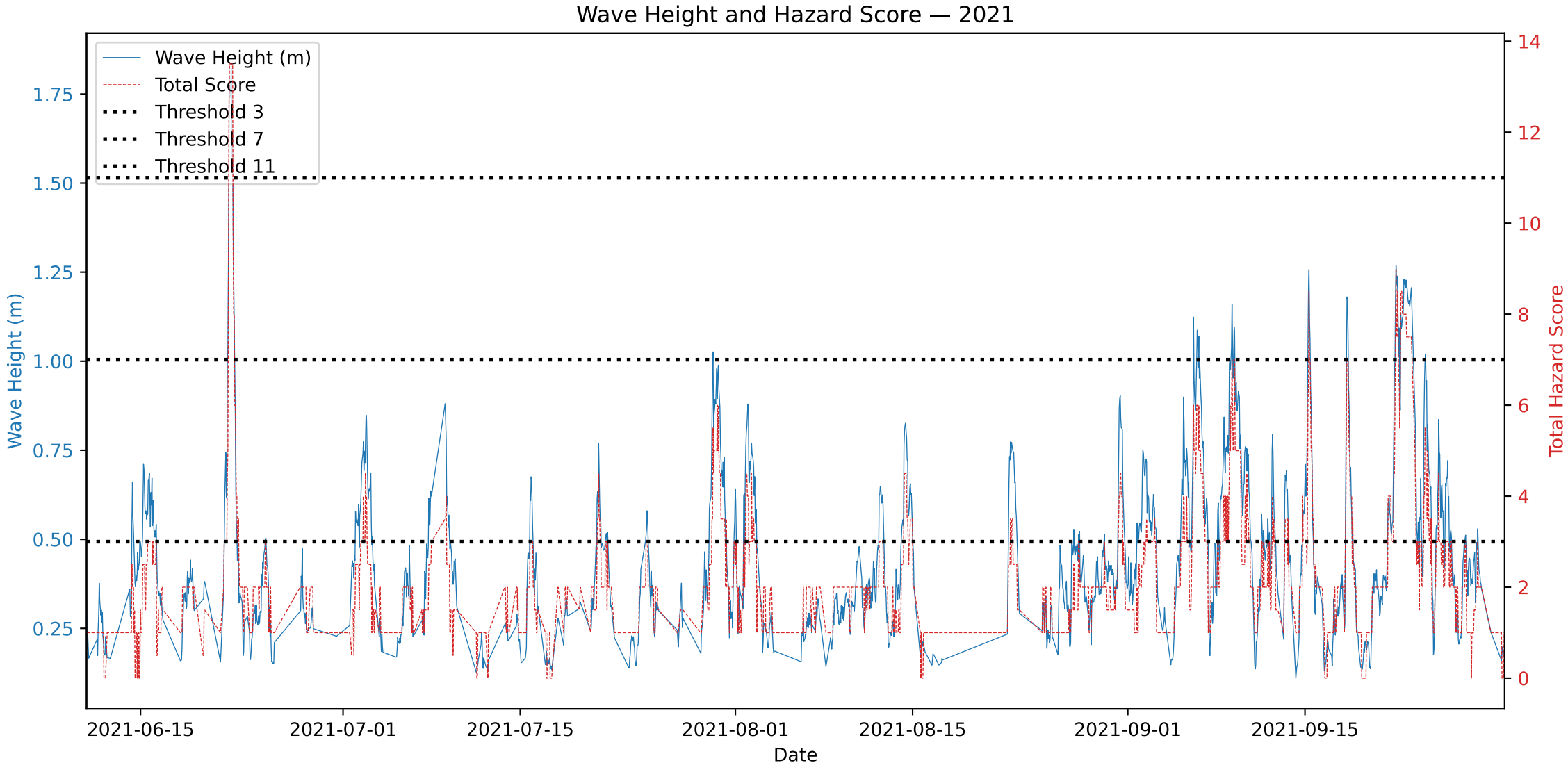
Wave Height and Hazard Score — 2021
Wave Height (m)
Total Score
Threshold 3
Threshold 7
Threshold 11
Wave Height (m)
Total Hazard Score
Date
0.25
0.50
0.75
1.00
1.25
1.50
1.75
0
2
4
6
8
10
12
14
2021-06-15
2021-07-01
2021-07-15
2021-08-01
2021-08-15
2021-09-01
2021-09-15

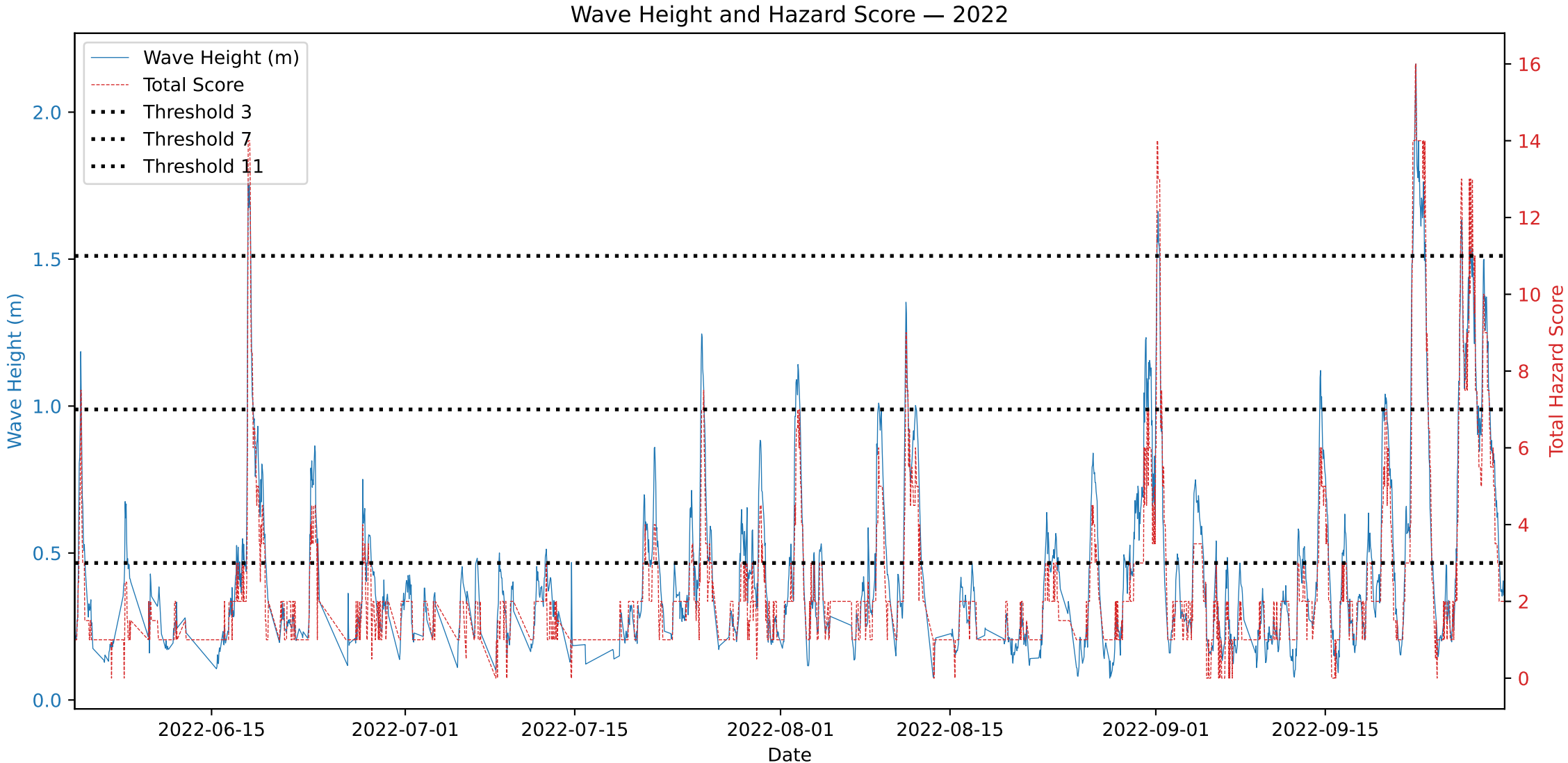
Wave Height and Hazard Score — 2022
Wave Height (m)
Total Score
Threshold 3
Threshold 7
Threshold 11
Wave Height (m)
Total Hazard Score
Date
0.0
0.5
1.0
1.5
2.0
0
2
4
6
8
10
12
14
16
2022-06-15
2022-07-01
2022-07-15
2022-08-01
2022-08-15
2022-09-01
2022-09-15

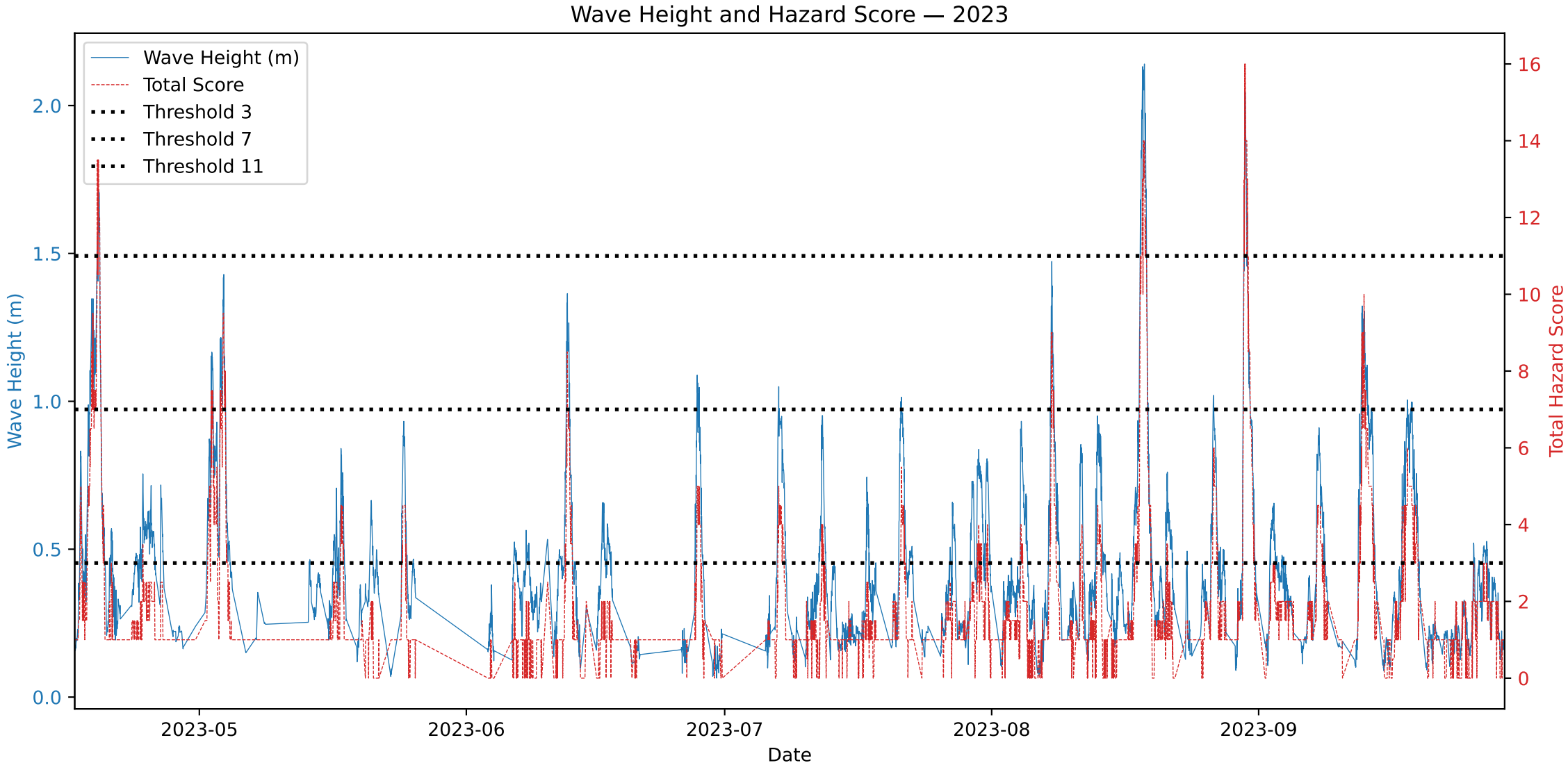
Wave Height and Hazard Score — 2023
Wave Height (m)
Total Score
Threshold 3
Threshold 7
Threshold 11
Wave Height (m)
Total Hazard Score
Date
0.0
0.5
1.0
1.5
2.0
0
2
4
6
8
10
12
14
16
2023-05
2023-06
2023-07
2023-08
2023-09

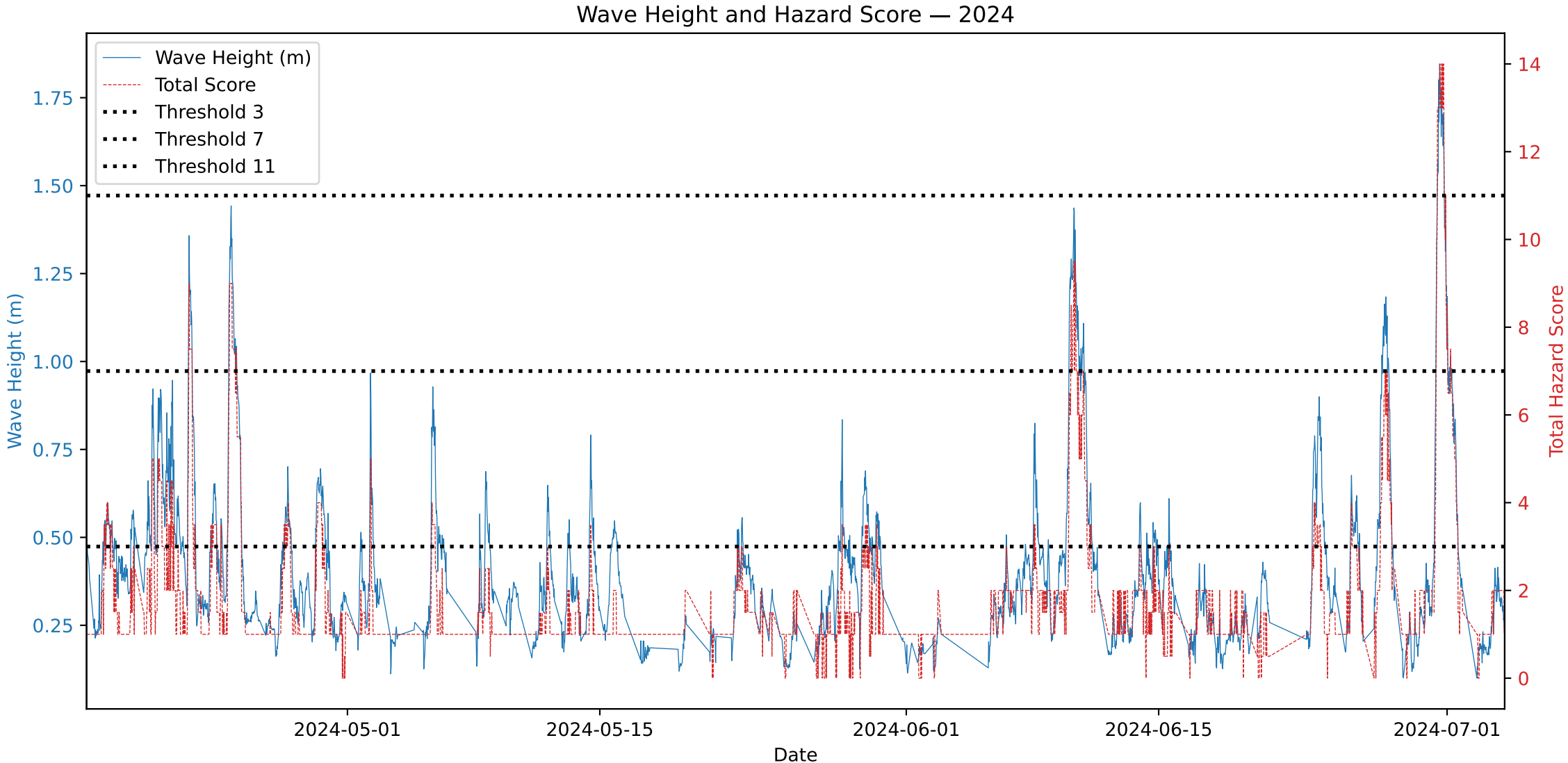
Wave Height and Hazard Score — 2024
Wave Height (m)
Total Score
Threshold 3
Threshold 7
Threshold 11
Wave Height (m)
Total Hazard Score
Date
0.25
0.50
0.75
1.00
1.25
1.50
1.75
0
2
4
6
8
10
12
14
2024-05-01
2024-05-15
2024-06-01
2024-06-15
2024-07-01